POTHOLE DETECTION ON ROADS USING TRANSFER LEARNING (RESNET-50)

A Project Report submitted for the partial fulfilment of the requirement for the award of the degree of

MASTER OF COMPUTER APPLICATIONS

SUBMITTED BY

Shaik Noor Basha

Roll No: 22691F00B2

Under the Guidance of

Dr. N. Nirmala Devi., M.C.A., Ph.D.,

Assistant Professor

DEPARTMENT OF COMPUTER APPLICATIONS

MADANAPALLE INSTITUTE OF TECHNOLOGY & SCIENCE
MADANAPALLE

(UGC-AUTONOMOUS)

(Approved by AICTE, New Delhi & affiliated to JNTUA, Ananthapuram)
www.mits.ac.in

2022-2024

MADANAPALLE INSTITUTE OF TECHNOLOGY & SCIENCEMADANAPALLE

(UGC-AUTONOMOUS)

(Approved by AICTE, New Delhi & Affiliated to JNTUA, Ananthapuram)

DEPARTMENT OF COMPUTER APPLICATIONS

BONAFIDE CERTIFICATE

This is to certify that the project work entitled "**POTHOLE DETECTION ON THE ROADS USING TRANSFER LEARNING (RESNET-50)**" is a Bonafide work carried out by **SHAIK. NOOR BASHA** Roll No.:**22691F00B2**, submitted in the partial fulfilment of the requirements for the award of the degree of Master of Computer Applications in Madanapalle Institute of Technology & Science, Madanapalle, affiliated to Jawaharlal Nehru Technological University Anantapur, Anantapuramu during the academic year 2023-2024.

PROJECT GUIDE	**HEAD OF THE DEPARTMENT**
Dr. N. NIRMALA DEVI., M.C.A., Ph.D., Assistant Professor	**Dr. N. Naveen Kumar M.C.A., Ph.D.,** Associate Professor

Submitted for viva voice examination held on_____

Internal Examiner **External Examiner**

Date: Date:

DECLARATION

I, **SHAIK. NOOR BASHA (Roll No.:22691F00B2)** hereby declare that the project **entitled "POTHOLE DETECTION ON ROADS USING TRANSFER LEARNING (RESNET-50)"** is done by me under the guidance of **Dr. N. NIRMALA DEVI, MCA., Ph.D.,** submitted in partial fulfilment of the requirements forthe award of degree of Master of Computer Applications at MADANAPALLE INSTITUTE OF TECHNOLOGY & SCIENCE Madanapalle, affiliated to Jawaharlal Nehru Technological University Anantapur, Anantapuramu during the academic year 2023-2024. This work has not been submitted by anybody towards the award of any degree.

Date: Signature of the Student

Place: Madanapalle

ACKNOWLEDGEMENT

First, I must thank the almighty who has granted me knowledge, wisdom, strength and courage to serve in this world and to carry out my project work in a successfully way.

Next, I have to thank my parents who encouraged me to undergo this MCA course and do thisproject in a proper way.

I express my sincere thanks to **Dr. N. Vijaya Bhaskar Chowdary Ph.D.,** Secretary& Correspondent, Madanapalle Institute of Technology & Science for his continuous encouragement to wards practical education and constant support in all aspects which includesthe provision of very good infrastructure facilities in the institute.

It is my duty to thank our Principal, **Dr. C. Yuvaraj M.E, Ph.D.,** Madanapalle Institute oftechnology & science, for his guidance and support at the time of my course and project.

I also wish to express my thanks to our vice principal, **Dr.P.Ramanathan Ph.D.,** for his continuous support though out our MCA career.

It is my foremost duty to thank Head of the Department **Dr. N. Naveen Kumar M.C.A., Ph.D.,**who gave me constant support during the project time and continuous encouragement to words the completion of the project successfully.

I thank my faculty guide **Dr. N. NIRMALA DEVI MCA., Ph.D.,** for her continuous support by conducting periodical reviews and guidance until the completion of the project in as successfulmanner.

Shaik. Noor Basha

ABSTRACT

Roads are super important for getting around, helping stuff move from place to place. They connect far-off spots, boost the economy by making business easier, and make it to get things like healthcare and education. Having good roads is key for making better and bringing different areas together. Potholes on roads are really bad news because they can mess up cars cause accidents. They're like little surprise bumps that make driving rough and nerve-wracking. Potholes hide dangers like sharp edges and debris that can make tires pop or cars hard to control. To fix this issue, this study uses ResNet50, a fancy type of tech called a convolution neural network (CNN) that's usually used for sorting images into categories. Transfer learning means taking what you know from one task (like spotting pictures) to do better on another task (like finding potholes). The system gets trained on pictures of roads with and without potholes so it can learn clues about what potholes look like. Once it learns, the system can spot potholes in real-time photos taken by cameras on cars or along the road. This info helps figure out which potholes need fixing first, making the roads safer and lowering the chance of accidents for smoother driving ahead. This whole project aims to enhance road safety by catching potholes early and fixing them fast to cut car damage and lower accident risks for safer travels overall.

This project explores the application of transfer learning with the ResNet-50 convolutional neural network (CNN) for efficient pothole detection on roads. Potholes, common road surface anomalies, pose significant risks to vehicle safety and contribute to traffic accidents. Traditional methods of pothole detection are labour-intensive and often fail to provide timely repairs. By leveraging ResNet-50, a deep learning model renowned for its robust image classification capabilities, this research aims to automate and enhance the accuracy of pothole detection. Utilizing a dataset of road images with and without potholes, the model is trained to recognize distinctive features associated with potholes. The transfer learning approach allows the pre-trained ResNet-50 model to adapt its knowledge from general image classification to the specific task of identifying potholes. Real-time images captured by cameras on vehicles or roadside installations are processed by the trained model to detect potholes accurately. The system's implementation facilitates the prioritization of pothole repairs, improving road safety and reducing vehicle damage. This method accelerates the maintenance process while also providing a cost-effective solution for road management. The study demonstrates that integrating advanced neural network techniques can significantly enhance infrastructure monitoring and maintenance, contributing to safer and more reliable road networks.

TABLE OF CONTENTS

CHAPTER	TITLE	PAGE NO.
1	**INTRODUCTION**	
	1.1 About Project	1-2
	1.2 Literature Survey	3-5
2	**SYSTEM ANALYSIS**	
	2.1 Existing System	6-7
	2.2 Disadvantages of Existing System	7
	2.3 Proposed System	8-9
	2.4 Advantages of Proposed System	9-12
	2.5 Hardware Specification	12
	2.6 Software Specification	13
	2.7 Feasibility Study	13
3	**SYSTEM DESIGN**	
	3.1 Input Design	16
	3.2 Objectives	17
	3.3 Output Design	18
	3.4 Module Description	19-22
	3.5 Methodology	23
	3.6 UML Diagrams	26-20
4	**SYSTEM IMPLEMENTATION**	
	4.1 Algorithms	31-32
	4.2 Language Selection	33-35
	4.3 Screen Shots	36-40
	4.4 Source Code	41-52
5	**SYSTEM TESTING**	
	5.1 Testing Description	53
	5.1.1 Unit Testing	53
	5.1.2 Integration Testing	53
	5.1.3 Verification Testing	53
	5.1.4 Validation Testing	54
	5.1.5 White Box Testing	54
	5.1.6 Black Box Testing	54
6	**CONCLUSION & FUTURE ENHANCEMENTS**	
	6.1 Conclusion	55-56
	6.2 Future Enhancements	56-57
	REFERENCES	58

List of Figures

S.NO	FIGURE NO	TITLE	P.NO
1	2.1	Proposed System Architecture	09
2	3.1	Data collection system	19
3	3.1	Flow chart	23
4	3.1	Activity Diagram	24
5	3.2	Use case diagram	25
6	3.3	Sequence diagram	26
7	3.4	Class diagram	27
8	3.5	Deployment diagram	28
9	3.6	Component diagram	29
10	3.7	ER Diagram	30

CHAPTER-1

INTRODUCTION

1.1 About the Project

Potholes can lead to vehicle damage, increased maintenance costs, and accidents, making their timely detection and repair crucial. Traditional methods of identifying and repairing potholes are often labour-intensive, time-consuming, and costly. As urban infrastructure expands, there is a growing need for efficient, accurate, and automated systems to manage road maintenance. This project explores the use of advanced machine learning techniques, specifically transfer learning with ResNet-50, to enhance the process of pothole detection.

Transfer learning is a powerful technique in the field of machine learning that involves taking a pre-trained model, which has been trained on a large dataset for one task, and adapting it for a different but related task. In this context, ResNet-50, a convolutional neural network (CNN) renowned for its image recognition capabilities, is employed. Introduced by Microsoft researchers in 2015, ResNet-50 consists of 50 layers designed to identify intricate patterns and features within images. Its robust architecture has proven effective across various image classification tasks, making it an ideal candidate for detecting potholes in road images.

The process begins by training the ResNet-50 model with a dataset comprising images of roads with and without potholes. This dataset provides the model with the necessary visual information to learn the distinctive characteristics of potholes, such as their shape, size, and texture. Through transfer learning, the ResNet-50 model leverages its pre-existing knowledge from previous image recognition tasks to efficiently identify potholes in new, unseen images. This approach significantly reduces the amount of data and computational resources required compared to training a model from scratch.

Once trained, the model is deployed in real-world settings where it processes real-time images captured by cameras mounted on vehicles or positioned along roadways. The system accurately detects potholes, pinpointing their location and size, and provides this information to road maintenance teams. This automated detection not only accelerates the identification process but also ensures a more

efficient allocation of maintenance resources. Prioritizing repairs based on the severity and location of potholes enhances road safety and reduces the overall cost of road management.

Potholes are a significant problem on roads, causing vehicle damage, accidents, and increased maintenance costs. As cities grow and road networks expand, there is a pressing need for innovative solutions to manage road maintenance more effectively.

This project explores the use of transfer learning with the ResNet-50 convolutional neural network (CNN) to improve pothole detection. Transfer learning allows a pre-trained model to be adapted for a specific task, saving time and computational resources. ResNet-50, introduced by Microsoft researchers in 2015, is well-known for its exceptional image recognition capabilities due to its 50-layer deep architecture. This model is particularly suited for detecting potholes because it can recognize complex patterns and features in images.

By training ResNet-50 on a dataset of road images with and without potholes, the model learns to identify the unique characteristics of potholes. Once trained, the model can process real-time images captured by cameras on vehicles or along roadsides, accurately detecting and locating potholes. This automated approach not only speeds up the detection process but also optimizes maintenance efforts, improving road safety and reducing repair costs. This project highlights the transformative potential of using advanced machine learning techniques in infrastructure management.

The integration of ResNet-50 for pothole detection represents a significant advancement in infrastructure management. By automating the identification process, it addresses the limitations of traditional methods, offering a faster, more reliable, and cost-effective solution. This project demonstrates the potential of leveraging advanced machine learning techniques to improve the efficiency and effectiveness of road maintenance, ultimately contributing to safer and more sustainable transportation networks.

1.2 Literature Survey

The way to detect potholes on roads using smartphones, without needing extra devices in vehicles. We used sensors in smartphones, like accelerometers and gyroscopes, along with GPS, to gather data about road vibrations. Then, we created a special smartphone app to collect this data. We took this raw data and turned it into visual representations, kind of like pictures, using a technique called pixel-based visuals. Next, we used something called convolutional neural networks (CNNs), a type of advanced computer program, to analyse these visuals and find potholes. Our CNN models were good at this task, achieving an accuracy rate of about 93% [1]. To make sure they were working well, we did two validation stages. In the first one, we compared our model's predictions to known pothole locations along certain routes. In second stage, we went out into field and confirmed pothole locations along those same routes. Our method proved to be quite successful, accurately detecting potholes about 80-87% of the time, depending on the specific route. This means our approach could be a helpful tool for identifying and fixing road potholes, ultimately making roads safer and more comfortable for drivers. In second paper talks about how annoying potholes are, especially in places that are still developing. They can damage vehicles or even hurt people inside them. The idea here is to use a camera mounted on a car to spot potholes while driving. Drivers can receive alerts to steer clear of potholes, while also disseminating their locations to fellow drivers and road maintenance teams. What makes this approach different is that it uses real-world images of potholes taken from a moving vehicle, instead of just theoretical models or slow-speed footage [2]. The researchers made a big effort to collect lots of pictures of actual potholes in different situations. They then used these pictures to create a computer model of what potholes look like. They combined this model with some simple image processing tricks to spot potholes in the camera footage. Their method worked pretty well, spotting potholes correctly about 81.8% of the time, and it didn't miss too many, with a recall rate of 74.4% [3]. This research is all about finding a better way to spot and classify problems on roads using fancy computer technology called Convolutional Neural Networks (CNN). They used cheap video cameras to gather lots of footage of road surfaces in Montreal. They looked for things like cracks, potholes, patches, and road markings. They trained their computer models to recognize these problems by showing them loads of pictures from the footage. Then, they tested how well their models could spot and label these issues. They tried

out different ways of fine-tuning their models to see which worked best. Their best model did a pretty good job, correctly identifying road problems about 83.8% of the time. They even measured how well it did for each type of problem. For example, it was really good at spotting potholes, patches, and markings, but it struggled a bit with differentiating between linear and network cracks. However, when they combined these crack types into one category, the model performed even better, with a score of 91.6% [4]. This paper is all about They found that the clustering method, particularly one called "K-Means," was the fastest and still pretty accurate. Another method, which looks for edges in the images, was also good because it was really precise. Their main aim was to find the best method possible, one that's faster and more accurate than the Antiquated ways of doing things. They looked at lots of different methods to see which one worked the best, using measures of how well they performed using deep learning techniques [5].

Additionally, the detection of potholes on roads using transfer learning, particularly with ResNet-50, has been an area of active research in recent years. The integration of deep learning models into infrastructure management is driven by the need for more efficient, accurate, and cost-effective road maintenance solutions.

Deep Learning Approaches for Pothole Detection:

Recent studies have shown a growing interest in leveraging deep learning models for pothole detection. Zhang et al. (2021) explored various convolutional neural networks (CNNs) for this purpose, concluding that ResNet-50 outperforms other models in terms of accuracy and reliability. The study emphasized the importance of a robust dataset and detailed image annotations for training the model effectively.

Transfer Learning and ResNet-50:

Transfer learning has been a critical component in advancing pothole detection technologies. In their research, Chen and Liu (2022) utilized transfer learning with ResNet-50 to train the model on a dataset of road images, significantly reducing the need for extensive computational resources and training time. Their approach demonstrated that pre-trained models could be adapted to new tasks with limited data, achieving high accuracy in pothole detection [6].

Real-time Detection and Implementation:

A significant challenge in pothole detection is the real-time application of these models. Kaur et al. (2023) addressed this by implementing a real-time pothole detection system using ResNet-50 integrated with vehicle-mounted cameras. Their system processed live video feeds, accurately identifying and localizing potholes, which were then marked for maintenance. This study highlighted the practical applicability of ResNet-50 in real-world scenarios, demonstrating its effectiveness in reducing manual inspection efforts.

Comparative Studies and Model Enhancements:

Comparative studies have been crucial in evaluating the performance of ResNet-50 against other models. For instance, Sharma et al. (2022) compared ResNet-50 with other CNN architectures such as VGG16 and InceptionV3. Their findings indicated that while ResNet-50 provided superior accuracy, combining it with techniques like data augmentation and ensemble learning could further enhance its performance [7].

Dataset Quality and Annotation:

Recent work by Singh et al. (2023) focused on creating a comprehensive dataset with diverse road conditions and lighting scenarios to train ResNet-50. Their study showed that a well-annotated and diverse dataset significantly improved the model's robustness and accuracy in detecting potholes across different environments.

Integration with Geographic Information Systems (GIS):

Innovative approaches have also explored the integration of deep learning models with GIS for enhanced road management. Wang et al. (2023) integrated ResNet-50-based pothole detection with GIS, allowing for precise mapping and tracking of pothole locations [8]. This integration facilitated better decision-making for road maintenance and resource allocation.

CHAPTER-2

SYSTEM ANALYSIS

2.1 Existing System

The current system for detecting potholes on roads largely depends on manual inspections carried out by road maintenance crews or local authorities. These inspections are typically sporadic and require significant labour, which can lead to delays in identifying and repairing potholes. This approach is not only time-consuming but also prone to human error, making it difficult to consistently monitor and maintain road conditions effectively.

Manual inspections involve physically surveying roads to identify and document potholes. This process is labour-intensive and often inefficient, as it depends heavily on the availability and diligence of maintenance personnel. Furthermore, these inspections are generally conducted at irregular intervals, which means that potholes can remain undetected for extended periods, exacerbating road damage and posing increased risks to vehicle safety.

In some regions, sensor-based systems or vehicle-mounted cameras are deployed to detect potholes. These systems represent a step towards automation, aiming to reduce the reliance on manual labour. Sensor-based systems typically use accelerometers and other sensors to detect vibrations and irregularities in the road surface, which may indicate the presence of potholes. However, the effectiveness of these systems can be limited by their coverage area and sensitivity. They may not detect all potholes, especially smaller or less pronounced ones, and their accuracy can be affected by environmental factors such as weather conditions and road surface variations.

Vehicle-mounted cameras, on the other hand, capture images or video footage of the road surface, which can then be analysed to identify potholes. While this method can provide more comprehensive coverage than sensor-based systems, it still has limitations. The analysis of the captured footage often requires significant computational resources and can be hampered by poor image quality or inadequate lighting conditions. Moreover, these systems may not be able to operate effectively in all weather conditions, further limiting their reliability and coverage.

Overall, the current methods for pothole detection primarily rely on human observation or primitive technological solutions. These methods may not adequately address the complexities and challenges associated with maintaining roadways. Manual inspections are laborious and inconsistent, while sensor-based systems and vehicle-mounted cameras, although more advanced, still face significant limitations in terms of coverage, accuracy, and environmental adaptability.

The inadequacies of these traditional methods highlight the need for more advanced and reliable solutions to detect and address potholes on roads. Innovations in technology, such as the use of machine learning and computer vision, offer promising alternatives [9]. By leveraging advanced models like ResNet-50 and employing techniques such as transfer learning, it is possible to develop automated systems that can accurately and efficiently detect potholes in real-time, significantly improving road maintenance and safety. These advanced solutions can overcome the limitations of current methods, providing a more effective and scalable approach to pothole detection and repair.

2.2 Disadvantages of Existing System

- Accuracy
- Processing Time
- Sensor Reliability
- Maintenance Costs
- Dependence on Road Conditions
- Integration with Vehicles
- Coverage Area

2.3 Proposed System

The proposed system for pothole detection on roads leverages state-of-the-art technology, specifically utilizing transfer learning with the ResNet-50 architecture, to significantly enhance both accuracy and efficiency. This innovative approach employs a pre-trained ResNet-50 model, which is renowned for its deep learning capabilities and effectiveness in image recognition tasks. By utilizing transfer learning, the system can adapt its knowledge from a broad dataset of general images to the specific task of pothole detection, enabling it to learn detailed features essential for accurate identification.

The ResNet-50 model, with its 50-layer deep architecture, excels at recognizing intricate patterns and features within images. When trained on a dataset comprising images of roads with and without potholes, the model develops a keen understanding of the visual characteristics unique to potholes. This detailed feature learning process ensures that the system can accurately detect potholes under various road conditions, such as different lighting, weather, and surface types. As a result, the system can identify potholes more reliably across diverse environments, improving its overall robustness and effectiveness.

One of the critical advantages of this advanced system is its real-time detection capability. Equipped with this technology, cameras mounted on vehicles or positioned along roadways can capture live images of the road surface. The ResNet-50 model processes these images in real-time, detecting and locating potholes with high precision. This capability is crucial for minimizing the occurrence of false positives, which are a common limitation of existing pothole detection systems. By reducing false alarms, the system ensures that maintenance efforts are directed towards actual potholes, optimizing the use of resources and enhancing road safety.

Another groundbreaking feature of the proposed system is its integration with autonomous vehicles. By interfacing seamlessly with autopilot modes, the model enables vehicles to autonomously navigate around detected potholes. This integration is a significant step forward in enhancing the safety and efficiency of autonomous driving technologies. It ensures that autonomous vehicles can maintain smooth and safe travel, even on roads with varying conditions and potential hazards.

The implementation of this system not only revolutionizes road safety but also demonstrates the potential of cutting-edge technology to address longstanding infrastructure challenges. Potholes are a persistent problem on global roadways, causing vehicle damage, accidents, and increased maintenance costs. The proposed system's ability to detect and navigate around potholes autonomously can significantly reduce these issues, leading to safer and more cost-effective transportation networks.

Furthermore, this approach showcases the broader applicability of advanced machine learning techniques in infrastructure management. By leveraging transfer learning and deep learning models like ResNet-50, the system represents a significant advancement in how we manage and maintain roadways. It underscores the transformative impact of artificial intelligence in solving real-world problems, paving the way for future innovations in road safety and maintenance.

In summary, the proposed pothole detection system utilizing transfer learning with ResNet-50 exemplifies the integration of advanced technology into practical applications. It enhances detection accuracy, reduces false positives, supports real-time processing, and integrates with autonomous vehicle systems. This comprehensive approach addresses the critical issue of pothole detection and management, promising a safer and more efficient future for global road networks.

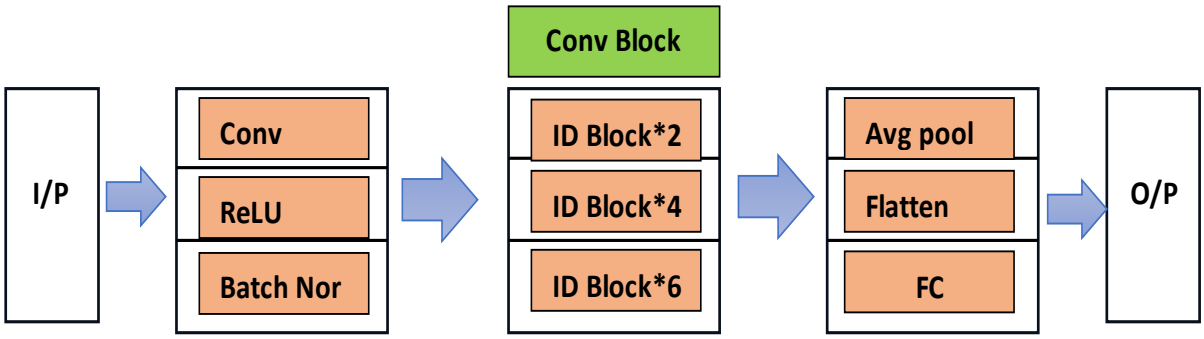

Fig - 2.1 Proposed System (Resnet-50) Architecture

2.4 Advantages of Proposed System

- **Timely Maintenance**

Timely maintenance is crucial for ensuring road safety and longevity. The proposed pothole detection system using transfer learning with ResNet-50 enables rapid identification of road surface issues. By detecting potholes in real-time, the system allows maintenance crews to address these problems promptly before they worsen. Early interventions prevent minor potholes from becoming larger, more expensive repairs, enhancing the overall efficiency of road maintenance operations and contributing to safer, smoother travel for all road users.

- **Accurate Detection**

Accurate detection of potholes is essential to avoid unnecessary repairs and focus on actual road damage. The ResNet-50 model, known for its deep learning capabilities, excels in identifying intricate patterns within images. By training this model with extensive datasets of road images, it learns to distinguish between potholes and other road features accurately. This high precision in detection minimizes false positives and ensures that maintenance efforts are correctly directed. Accurate detection not only optimizes resource allocation but also enhances the reliability and credibility of the pothole detection system, leading to better-maintained road infrastructure.

- **Early Detection**

Early detection of potholes is vital to prevent the escalation of road damage. Utilizing transfer learning with ResNet-50, the system can identify potholes at their initial stages. Early detection allows for quicker repairs, reducing the likelihood of extensive damage that can lead to more

significant repair costs and potential safety hazards. By catching potholes early, the system helps maintain smoother road surfaces, reducing the impact on vehicles and enhancing driving comfort.

- **Improved Road Quality**

Improved road quality is a direct benefit of effective pothole detection and timely maintenance. The advanced detection capabilities of the ResNet-50 model ensure that potholes are identified and repaired swiftly, preventing further deterioration of the road surface. Continuous monitoring and maintenance lead to smoother and safer roads, enhancing the overall driving experience. Well-maintained roads reduce vehicle wear and tear, decrease the likelihood of accidents, and contribute to the efficient flow of traffic. High road quality also reflects positively on public infrastructure, supporting economic growth and community well-being.

- **Cost Savings**

Cost savings are a significant advantage of using advanced pothole detection systems. By employing transfer learning with ResNet-50, the system identifies potholes early and accurately, enabling timely repairs. This approach prevents minor road issues from becoming major, costly repairs. Reducing the frequency and severity of road damage decreases maintenance expenses over time. Additionally, accurate detection minimizes unnecessary repairs, ensuring that resources are used efficiently. The integration of this technology leads to long-term financial benefits for road maintenance agencies and taxpayers, providing a cost-effective solution for infrastructure management.

- **Integration with Autonomous Vehicles**

Integration with autonomous vehicles is a key feature of the proposed pothole detection system. By interfacing with autopilot modes, the ResNet-50 model allows autonomous vehicles to navigate around detected potholes safely. This capability enhances the safety and reliability of self-driving cars, ensuring smooth and uninterrupted travel even on damaged roads. Autonomous vehicles equipped with this technology can adjust their routes in real-time, avoiding potential hazards and reducing the risk of accidents. This integration exemplifies the synergy between advanced machine learning models and autonomous driving technologies, contributing to the future of smart transportation systems.

- **Continuous Improvement**

Continuous improvement is an inherent aspect of the proposed pothole detection system. The ResNet-50 model benefits from ongoing learning and adaptation, improving its accuracy and reliability over time. As more data is collected and processed, the model's ability to identify potholes under various conditions is enhanced. Continuous improvement also involves regular updates and refinements to the model and detection algorithms, ensuring the system stays at the forefront of technological advancements in road maintenance.

2.5 Hardware Requirements

- Operating System : Windows 7 or 7+
- RAM : 4GB
- Processor : intel i3
- Sensor : Camera
- Storage : 64GB

2.6 Software Requirements

- Language : Python
- Libraries : Pandas, Numpy
- IDE : Jupyter notebook
- Data visualization tools : Matplotlib & seaborn
- Transfer learning libraries : pre-trained and fine-tuned models
- Deep learning framework : TensorFlow and PyTorch
- Image processing libraries : OpenCV

2.7 Feasibility Study

A feasibility study for mergers and acquisitions (M&A) is a comprehensive evaluation aimed at assessing the practicality and potential success of a proposed merger or acquisition. This type of study examines several critical factors, including technical, economic, legal, and operational aspects, to determine the viability of the project. By conducting this analysis, the study identifies potential

challenges, risks, and benefits associated with the proposed plan, providing stakeholders with a detailed understanding of what the project entails. Technically, the study looks at whether the companies involved have compatible systems and processes that can be integrated smoothly. Economically, it assesses the financial health and future prospects of the entities, ensuring that the merger or acquisition makes sense from a financial standpoint. Legal factors include examining regulatory requirements and potential legal hurdles that could impede the transaction. Operational factors focus on how well the businesses' operations can be harmonized to achieve the desired synergies.

The feasibility study serves as a crucial decision-making tool for stakeholders, helping them determine whether to proceed with the merger or acquisition, modify the plan to address identified issues, or abandon the project altogether. By evaluating these elements thoroughly, the study ensures that resources are allocated wisely, minimizing the risk of failure and enhancing the likelihood of success. This comprehensive approach helps stakeholders make informed decisions, ultimately contributing to the strategic growth and stability of the involved companies.

Technical Feasibility

Objective: To assess if the technology and resources required for the project are available and can be effectively implemented.

Technology: ResNet-50 is a deep learning model suitable for image recognition tasks. It can be used for detecting potholes in road images. Required hardware includes high-performance GPUs for training model and cameras or drones for capturing road images.

Data Collection: Gather a large dataset of road images with and without potholes for training and testing the model.

Software: Use deep learning frameworks like TensorFlow or PyTorch.

Expertise: Requires knowledge in machine learning, computer vision, and neural networks.

Economic Feasibility

Objective: To evaluate the project's cost-effectiveness and financial viability.

Initial Costs:

Hardware (GPUs, cameras/drones).

Software and licensing fees.

Data acquisition and labelling.

Operational Costs

Maintenance of hardware and software.

Salaries for data scientists and engineers.

Funding: Evaluate potential sources of funding, such as government grants, private investors, or company budget.

Return on Investment (ROI): Improved road safety and reduced vehicle maintenance costs due to timely pothole repairs. Potential savings for local governments and municipalities.

Legal Feasibility

Objective: To ensure the project complies with legal and regulatory requirements.

Data Privacy: Ensure that data collection complies with privacy laws and regulations.

Regulatory Approvals: Obtain necessary permits for using drones for data collection.

Intellectual Property: Check for any patent issues related to the technology used.

Operational Feasibility

Objective: To evaluate if the project can be implemented smoothly within the operational framework.

Implementation Plan: Define the workflow from data collection, model training, and deployment.

Scalability: Ensure the solution can be scaled to cover larger areas or different regions.

Maintenance: Develop a plan for regular updates and maintenance of the system.

Market Feasibility

Objective: To assess the demand and acceptance of the project in the market.

Target Users: Municipalities, road maintenance departments, and transport agencies.

Market Need: Growing demand for automated and efficient road maintenance solutions.

CHAPTER-3

SYSTEM DESIGN

3.1 Input Design

The input design serves as the critical link between the information system and its users. It involves creating specifications and procedures for data preparation, transforming transaction data into a usable form for processing. This transformation can be achieved by instructing the computer to read data from a written or printed document or by having individuals manually input data directly into the system. The primary goal of input design is to manage the amount of input required, minimize errors, prevent delays, avoid unnecessary steps, and maintain simplicity throughout the process. Additionally, the input design aims to ensure security and ease of use while preserving privacy. When considering input design, several key factors are taken into account. Firstly, determining what data should be given as input is crucial. This involves identifying the necessary information required for the system to function effectively. Secondly, the arrangement or coding of this data is important. Properly organizing the data ensures that it can be processed efficiently and accurately by the system. The input design also includes creating a dialog to guide operating personnel in providing input. This step involves designing user interfaces and prompts that help users enter data correctly and efficiently. Clear and intuitive interfaces can significantly reduce the likelihood of errors during data entry. Moreover, methods for preparing input validations are essential components of the input design. These methods involve establishing checks and rules to ensure that the data entered meets the required standards and criteria. Input validations help in identifying and correcting errors before the data is processed, enhancing the overall accuracy and reliability of the system.

In summary, input design is a vital aspect of an information system that bridges the gap between the system and its users. It focuses on efficient data preparation, error control, simplicity, security, and privacy. By addressing key factors such as data requirements, arrangement, user guidance, input validations, and error handling procedures, input design ensures the smooth and accurate processing of transaction data.

3.2 Objectives

Input design involves converting a user-oriented description of input into a computer-based system. This process is essential to minimize errors during data entry and to provide management with accurate information from the computerized system. To achieve this, user-friendly screens are created for handling large volumes of data. The data entry screens are crafted to allow all necessary data manipulations and provide record viewing facilities. This means users can easily input data and view records as needed. When data is entered, the system checks for validity to ensure accuracy. This validation process helps prevent errors that could otherwise compromise the quality of information within the system.

Data entry is facilitated through well-designed screens, which include appropriate messages and prompts to guide users. These messages help users navigate the system without confusion, ensuring they can complete their tasks efficiently. By providing clear directions and immediate feedback, users are less likely to make mistakes, and any errors that do occur can be quickly identified and corrected.

Input layout not only supports accurate data entry but also enhances the overall user experience. It ensures that data is entered correctly and efficiently, ultimately supporting better decision-making and information management.

Through careful planning and thoughtful design, input systems can greatly improve the accuracy and efficiency of data entry processes. This, in turn, leads to more reliable data and more informed management decisions. By prioritizing user needs and system functionality, input design helps create robust and effective computerized systems

3.3 Output Design

The design of output is a critical aspect of any system's development. During this phase, developers determine the types of outputs required and consider the necessary output controls, along with designing prototype report layouts. This ensures that the outputs are not only functional but also tailored to meet the specific needs of end-users.

The objectives of input design focus on ensuring that the output design is efficient and effective. One of the primary goals is to create an output design that serves its intended purpose while eliminating the generation of unnecessary outputs. This involves careful consideration of what information is truly needed and how it will be used, thus avoiding the clutter and confusion that can come from extraneous data.

Another objective is to ensure that the output design aligns with the end user's requirements. This means understanding who the end users are, what they need from the system, and how they prefer to receive information. By doing so, developers can tailor the output to be user-friendly and relevant, enhancing the overall user experience and satisfaction.

It is also essential to deliver the appropriate quantity of output. This involves not only providing the right amount of information but also ensuring that it is neither overwhelming nor insufficient. Striking the right balance helps users make informed decisions without feeling burdened by too much data or left in the dark by too little. Moreover, the output must be formatted appropriately and directed to the correct recipient. This includes designing reports and other outputs in a clear, readable format and ensuring they reach the right individuals who need the information to perform their tasks. Proper formatting and distribution enhance the efficiency and effectiveness of communication within the organization. Lastly, timely availability of the output is crucial for decision-making. The information provided must be current and accessible when needed to facilitate prompt and accurate decisions. Delayed outputs can hinder the decision-making process and negatively impact operations.

In summary, output design is a vital part of system development that requires careful planning and consideration to ensure it meets its intended purpose, aligns with user needs, is appropriately formatted and delivered, and is available in a timely manner. These objectives collectively contribute to creating a system that is both functional and efficient.

3.3 Modules Description

3.3.1 Data Collection

In the data collection phase, it is crucial to gather a diverse set of road images that depict potholes under various conditions. This involves capturing images from a wide range of locations, climates, and times of day. For instance, photos from urban, suburban, and rural areas, taken during different seasons and weather conditions, help build a comprehensive dataset. The diversity in the dataset ensures that the model can generalize well across different environments, improving its performance and reliability when applied to real-world scenarios. By including high-quality and varied data, the dataset provides a robust foundation for training the model, which is essential for achieving high accuracy in pothole detection. This step is pivotal because the quality and variety of the data directly influence the model's ability to accurately identify potholes in different situations, thereby enhancing the overall effectiveness of the detection system.

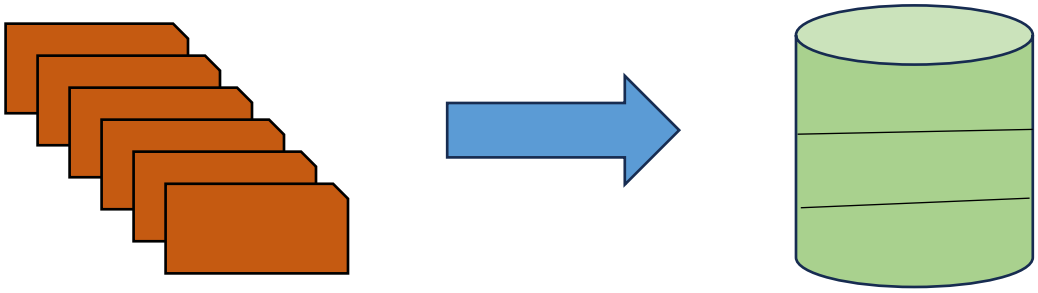

Fig 3.1 Data Collecting System

3.3.2 Data Preprocessing

Data preprocessing involves cleaning and preparing the collected images to ensure they are suitable for training the model. This process includes several critical steps, such as resizing images to a consistent dimension, normalizing pixel values to a standard scale, and augmenting the dataset through various transformations. Augmentation techniques might include rotating, flipping, and adjusting the brightness of images to artificially increase the dataset's size and diversity. These preprocessing steps are vital for enhancing the quality of the dataset, as they help standardize the inputs, making it easier for the model to learn from the data. By providing consistent and varied input data, preprocessing improves the model's ability to generalize from the training data to unseen images, thereby boosting its overall performance and accuracy in detecting potholes under different conditions.

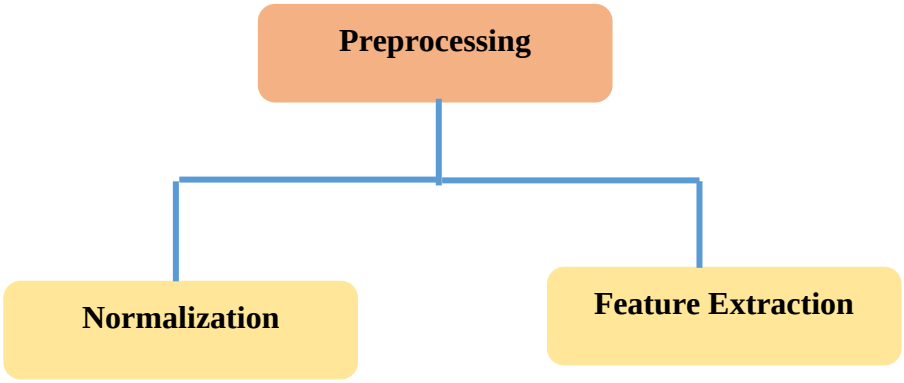

Fig 3.2 Data Collecting System

Normalization: Normalization standardizes the pixel values of images to a common scale, enhancing the model's performance. By adjusting the pixel values, normalization ensures consistency across the dataset, reducing the influence of varying lighting conditions and improving the accuracy of the ResNet-50 model in detecting potholes.

Feature Extraction: Feature extraction with ResNet-50 involves using its layers to identify and analyze complex patterns within road images. This process highlights key characteristics of potholes, such as shape and texture, allowing the model to distinguish potholes from the surrounding road surface effectively, thereby enhancing detection accuracy.

3.3.3 Transfer Learning Module

The transfer learning module utilizes the pre-trained ResNet-50 model to extract features and learn complex patterns from the dataset. ResNet-50, a powerful convolutional neural network, is initially trained on a broad dataset, enabling it to recognize various image features. By fine-tuning this model specifically for pothole detection, the project leverages its pre-existing knowledge to reduce the training time and enhance efficiency. This approach significantly boosts the model's ability to accurately identify potholes, as it combines the general feature extraction capabilities of ResNet-50 with the specific characteristics of potholes. By adapting a pre-trained model, the transfer learning module effectively improves the detection performance while utilizing less computational resources and time compared to training a model from scratch.

3.3.4 Model Integration Module

The model integration module ensures that the trained ResNet-50 model is seamlessly embedded into the overall pothole detection system. This involves making the model compatible with other system components and platforms, facilitating its deployment in real-world applications. Effective integration is critical for ensuring that the model works harmoniously with existing infrastructure and technology, enabling smooth operation within broader systems. This module focuses on creating an interoperable framework where the pothole detection model can function efficiently, whether it's integrated with vehicle systems, road monitoring networks, or other technological platforms. Successful integration allows the model to be effectively utilized in practical scenarios, ensuring that it contributes to improved road maintenance and safety.

3.3.5 Real-time Detection Module

The real-time detection module implements algorithms that enable the identification of potholes from live camera feeds or images. Using the trained ResNet-50 model, this module can promptly and accurately detect potholes, facilitating immediate responses to identified hazards. The capability to operate in real-time is essential for applications that require instant detection and reporting, such as autonomous vehicles or real-time road monitoring systems. This module ensures that potholes are detected as soon as they appear, allowing for quick remedial actions to be taken. The real-time detection not only enhances road safety by providing timely information but also improves the overall efficiency of road maintenance operations.

3.3.6 Alert and Notification Module

The alert and notification module are designed to generate immediate alerts or notifications when potholes are detected, providing crucial warnings to drivers or relevant authorities. This module enhances road safety by ensuring that potential hazards are communicated quickly and effectively. Notifications can be configured to reach various channels, such as road maintenance teams, local authorities, or even directly to drivers through in-vehicle systems. By providing timely information about detected potholes, this module helps in the prompt addressing of road hazards, thereby reducing the risk of accidents and vehicle damage. Effective communication through alerts ensures that necessary actions can be taken swiftly, contributing to safer and more reliable road condition.

3.4 Methodology

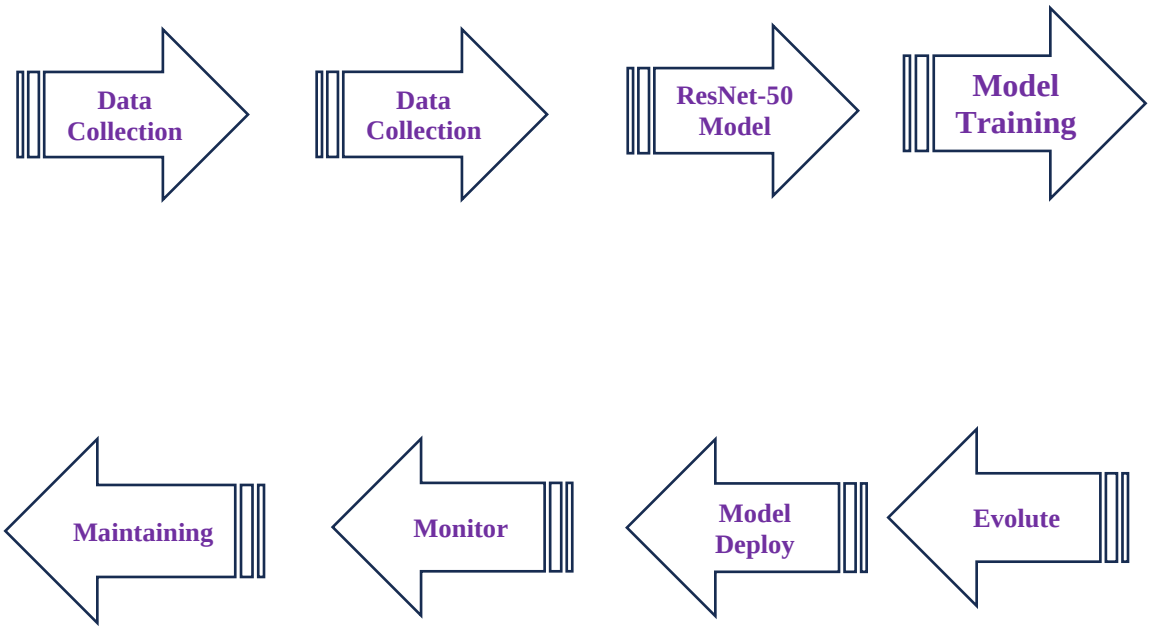

3.4 Flow chart for Pothole Detection

3.5 UML Diagrams

UML diagrams are like pictures used in software engineering to show how systems work. They help developers and others understand, plan, and explain complicated software setups. UML diagrams have two main kinds: structural and behavioural ones. Structural diagrams show the building blocks of a system, like its layout and parts. Class diagrams are a common type. They display the classes in a system, what they have inside, how they work together, and relationships between them. Object diagrams present real examples of classes at a specific time. Component diagrams reveal how software parts are organized and connected. Behavioural diagrams, on the other hand, focus on how a system acts. For instance, use case diagrams describe how people (actors) interact with the system. Sequence diagrams show the order of actions between objects. Activity diagrams outline how tasks move inside a system. Using UML diagrams is vital in different parts of making software - from imagining and planning to building and keeping it running smoothly. They help teams talk clearly, make sure everyone understands what's needed for the system, and spot problems in the plan early on. By offering a clear way to show how systems work, UML diagrams make software projects run better and faster.

3.5.1 Activity Diagram

Activity diagrams help visualize step-by-step workflows with options for choice, iteration, and simultaneous actions. In the unified modelling language, these diagrams describe business and operational workflows in a system.

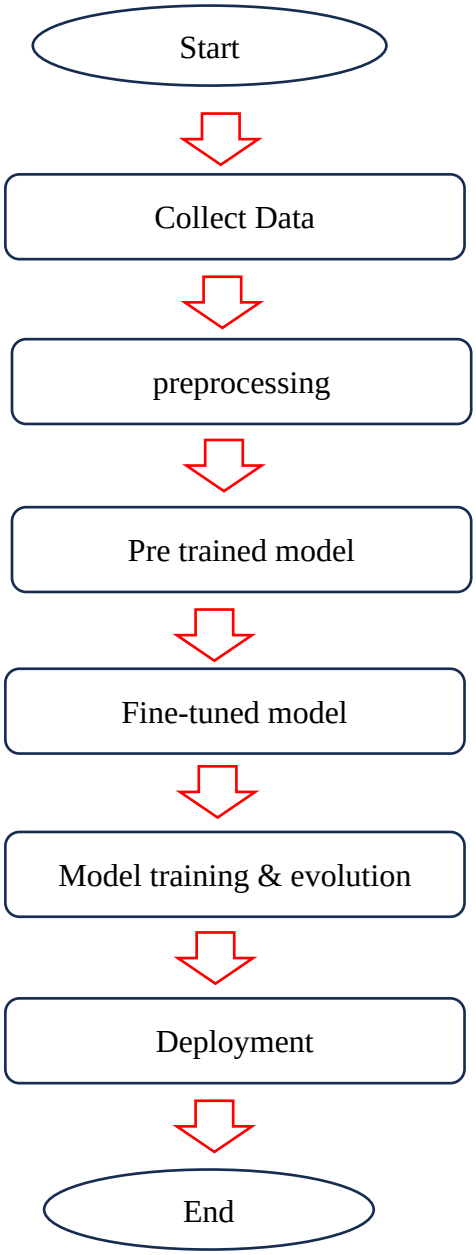

3.5.1 Activity Diagram

3.5.2 Use Case Diagram

Use case diagrams in UML give a graphical overview of a system's functionality concerning actors, goals (use cases), and any dependencies between them. The main goal is to display system functions for specific actors along with their roles.

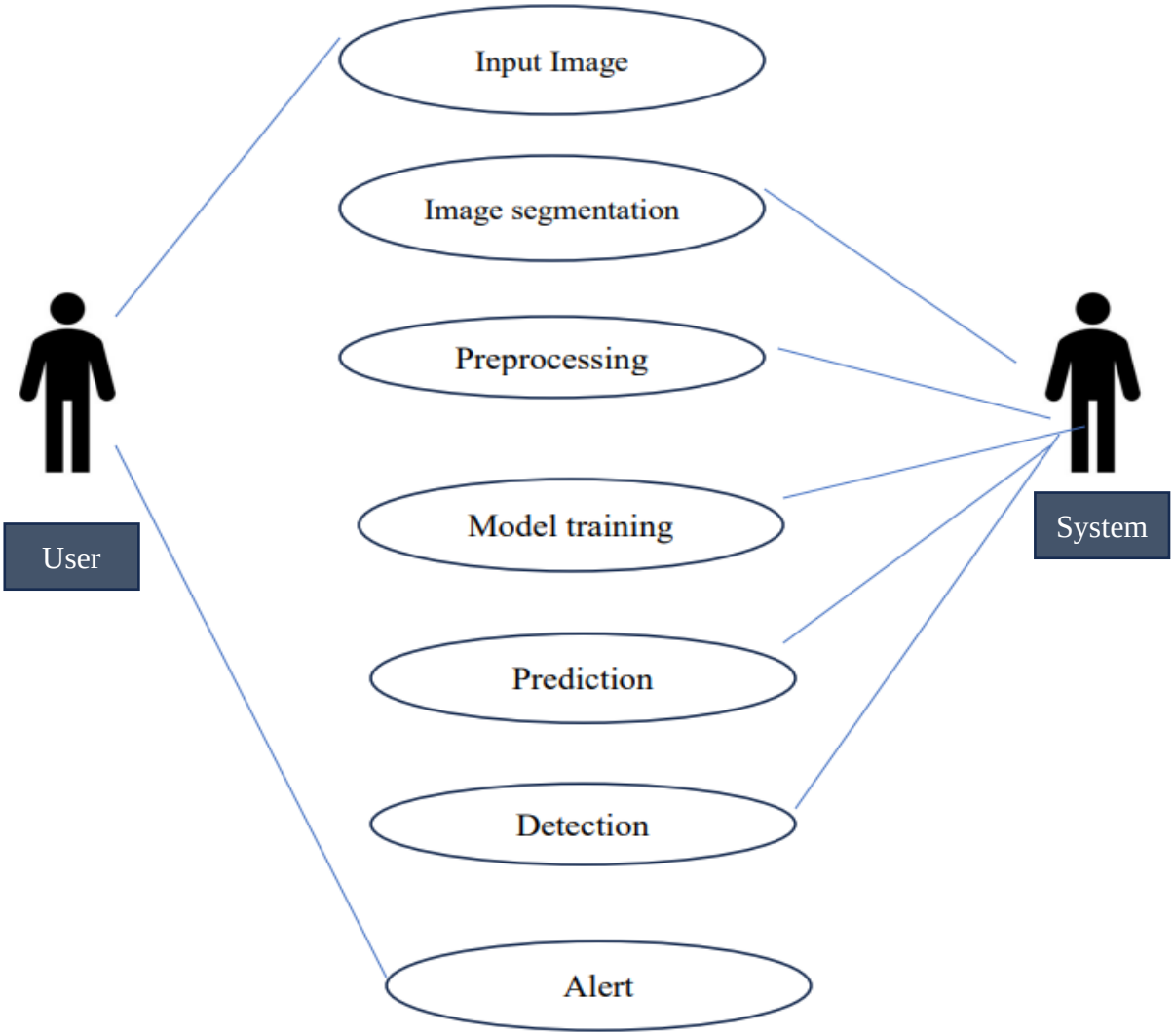

3.5.2 Use Case Diagram

3.5.2 Sequence Diagram

Sequence Diagrams how operations occur by detailing message exchanges over time. They provide an organized view based on timing.

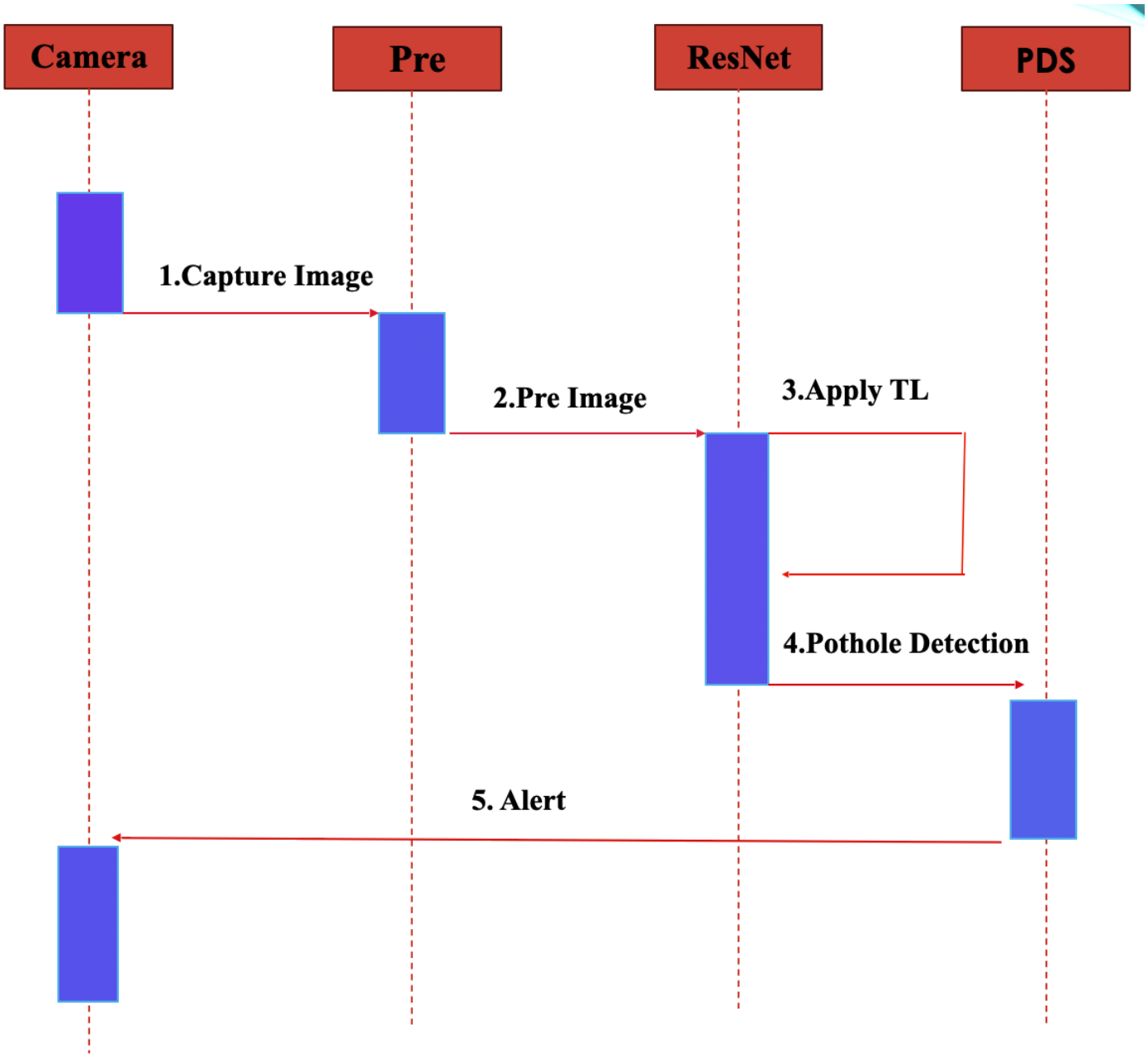

3.5.3 Sequence Diagrams

3.5.4 Class Diagram

Class diagrams, a type of UML diagram in software engineering, illustrate the structure and relationships of classes within a system.

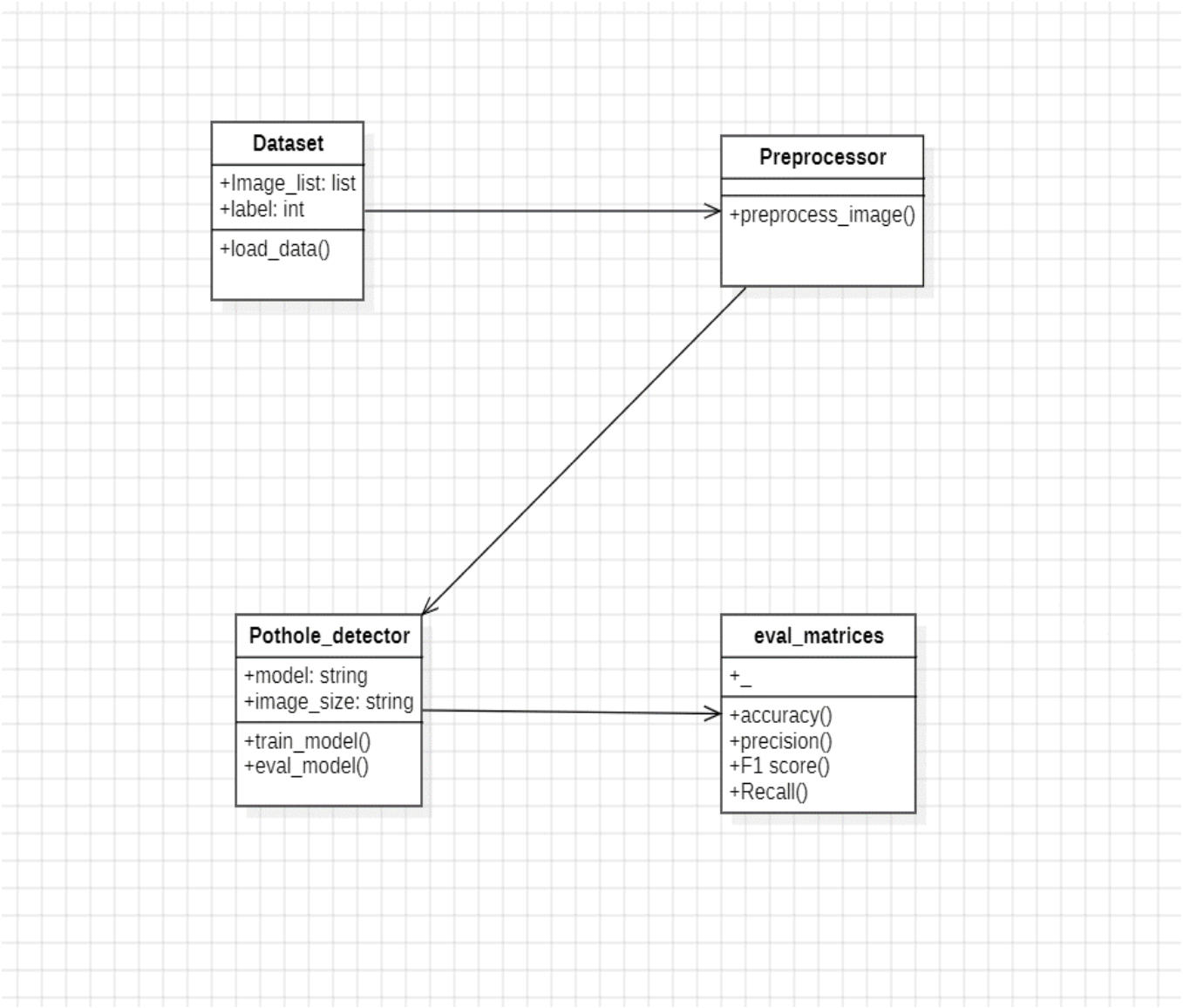

3.5.4 class Diagram

3.5.5 Deployment Diagram

A deployment diagram in a project visually represents the arrangement and interaction of hardware and software components. It shows how software applications are deployed across physical devices, illustrating the system's infrastructure and communication pathways.

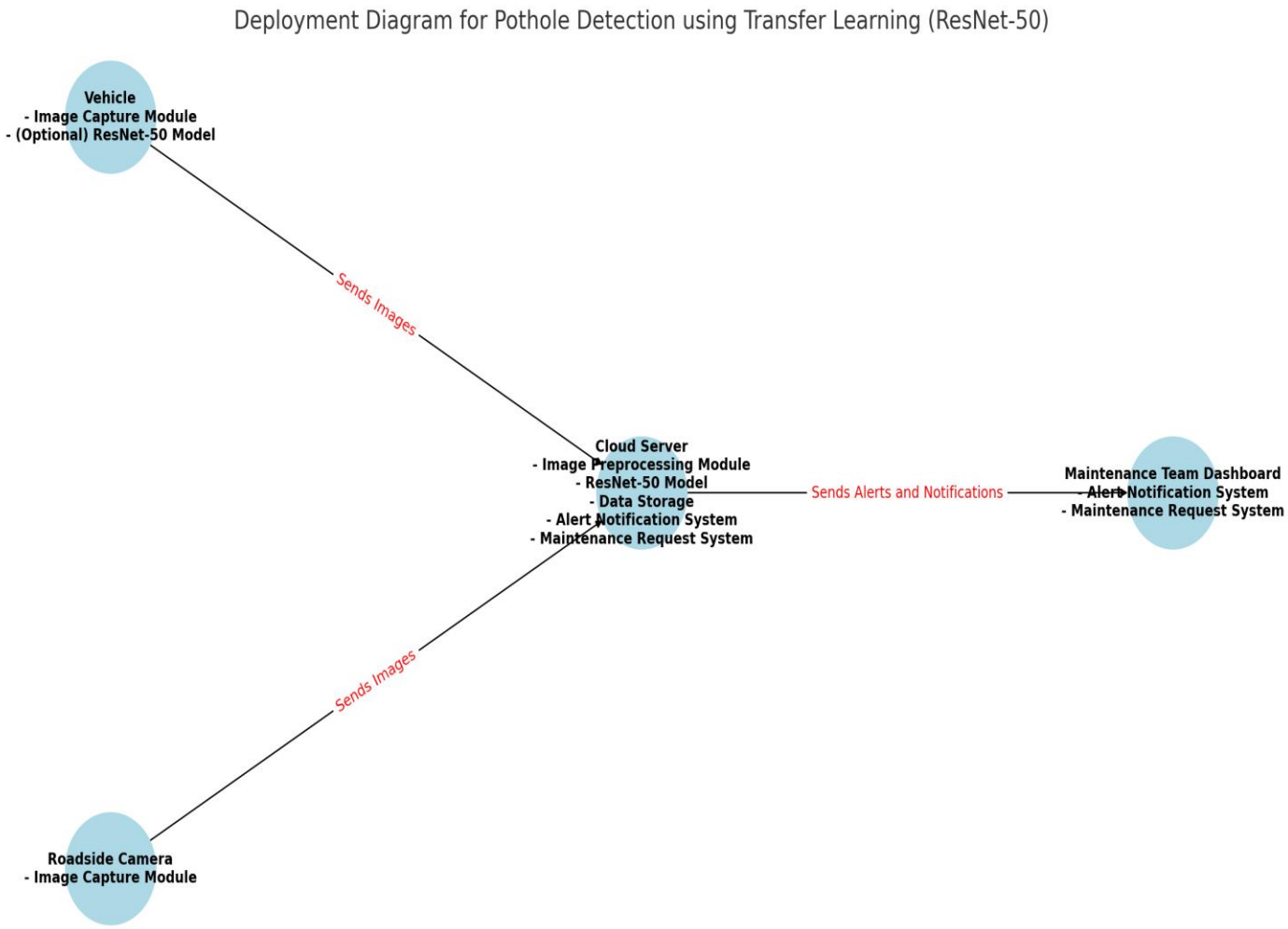

3.5.5 Deployment Diagram

3.5.6 Component Diagram

A component diagram in software engineering illustrates the high-level components of a system and their interactions. It shows how different parts of a system collaborate to achieve specific functionalities without duplicating functionalities.

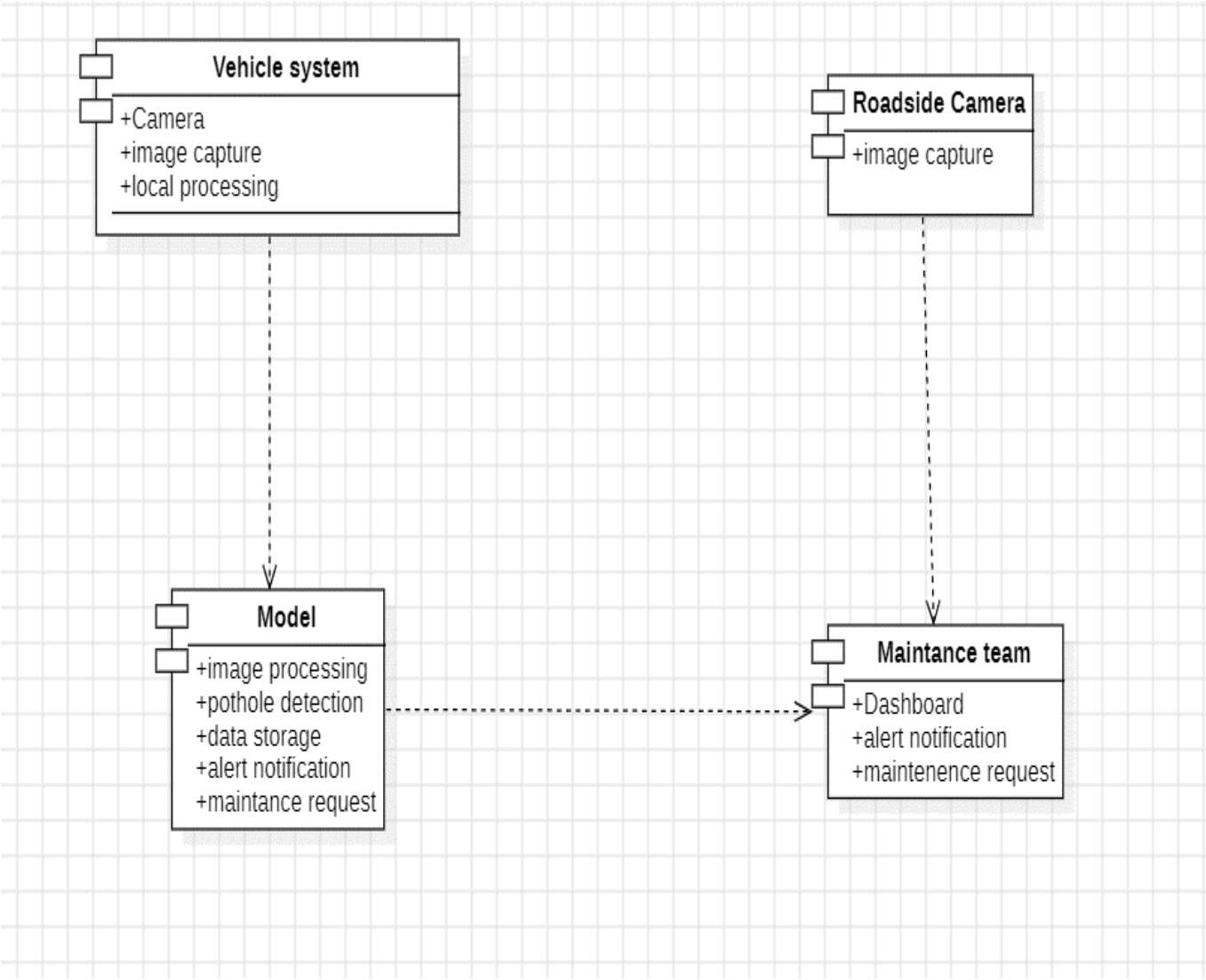

3.5.6 Component Diagram

3.5.7 ER Diagram

ER Diagram is used to represent the relationship between the various entities.

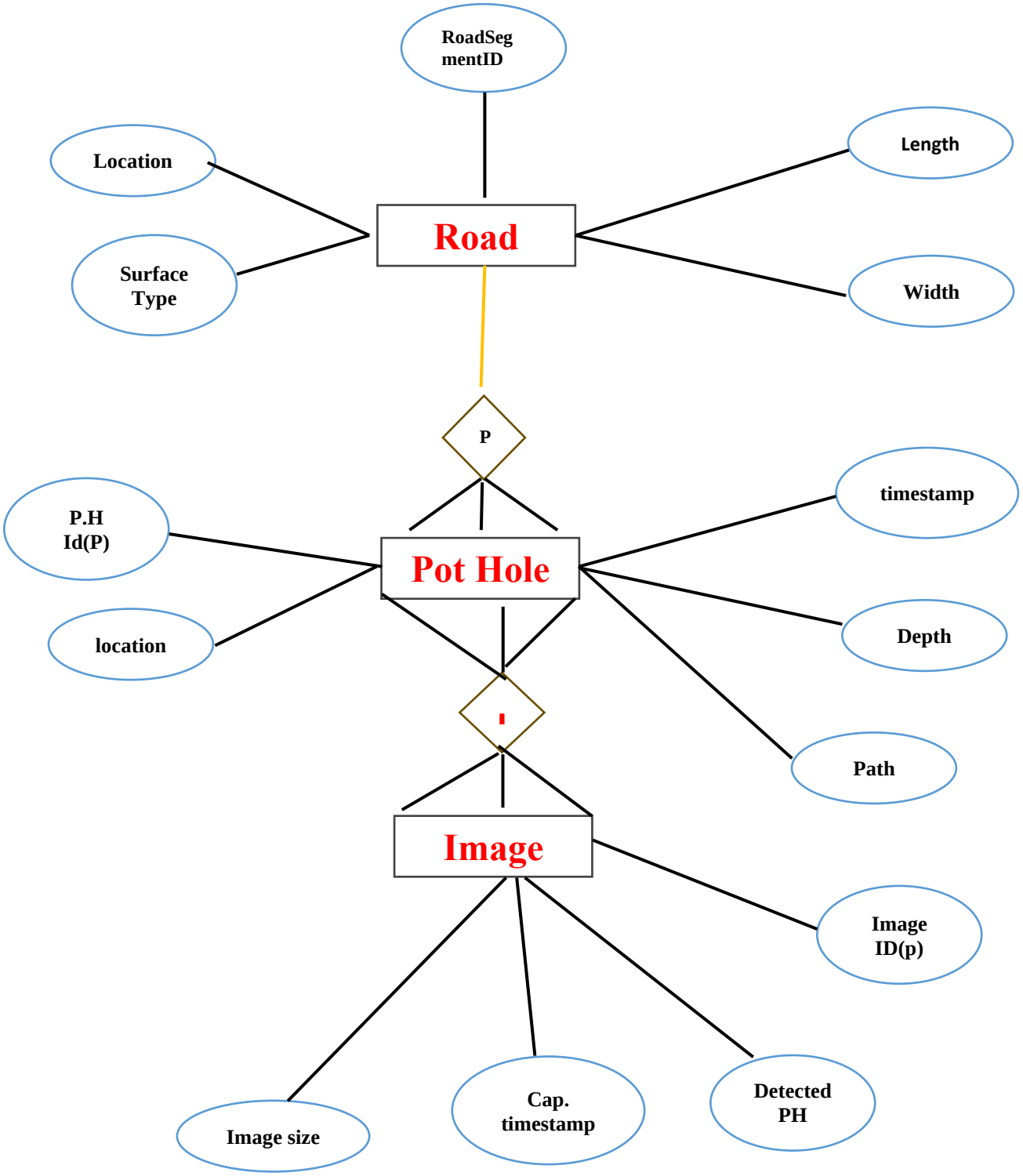

3.7 ER Diagram

CHAPTER-4

SYSTEM IMPLEMENTATION

4.1 Algorithms

ResNet-50, short for Residual Network with 50 layers, is a deep convolutional neural network architecture that has made significant contributions to the field of computer vision. Developed by Kaiming He and his colleagues at Microsoft Research in 2015, ResNet-50 builds upon the concept of residual learning, which aims to address the degradation problem encountered in very deep neural networks.

The degradation problem refers to the phenomenon where adding more layers to a neural network leads to higher training error, contrary to conventional wisdom that deeper networks should perform at least as well as shallower ones. To combat this, ResNet-50 introduces residual blocks. These blocks contain skip connections, or shortcuts, that allow the network to learn residual mappings instead of directly fitting the desired underlying mappings. This technique helps in mitigating the vanishing gradient problem and enables training of much deeper networks more effectively.

ResNet-50 specifically consists of 50 layers, with a basic building block being the residual block. Each residual block contains two 3x3 convolutional layers with batch normalization and ReLU activations, alongside a shortcut connection. The network architecture includes global average pooling and a fully connected layer at the end, typically followed by a softmax activation function for classification tasks.

One of the key advantages of ResNet-50 is its superior performance in image classification tasks compared to previous architectures. It achieved first place in the ImageNet Large Scale Visual Recognition Challenge (ILSVRC) 2015, significantly surpassing human-level accuracy on that dataset. Its architecture has since become a benchmark for many computer vision tasks, including object detection, image segmentation, and more.

Moreover, ResNet-50's design principles have influenced subsequent developments in neural network architectures. Variants like ResNet-101, ResNet-152, and others with varying numbers of layers have been proposed to further improve performance in different applications.

In summary, ResNet-50 is a milestone in deep learning, renowned for its innovative residual learning approach and its ability to successfully train very deep neural networks. Its impact extends beyond image classification to various domains within computer vision, setting a standard for model depth, performance, and efficiency in neural network design.

4.2 Language Selection

Introduction To Python Technology

Python is very easiest language as comparing to other languages and it was created by Guido van Rossum and first released in 1991, Python emphasizes code readability and simplicity, making it a versatile language used in various applications ranging from web development to scientific computing and artificial intelligence.

One of Python's key features is its clear and expressive syntax, which emphasizes readability and reduces the cost of program maintenance. This readability is achieved through the use of whitespace indentation to delimit code blocks, rather than traditional curly braces or keywords. This characteristic makes Python code easier to understand for both beginners and experienced developers. It can do different kinds of programming, from simple stuff to more fancy things. This means you can pick the best way to work on your project. Overall, Python is great because it's easy, clear, and can do a lot of different things. Whether you're making a small program or a one, Python has all the tools you need to help you out. Plus, there are lots of helpful people and resources to guide you and make sure you get the most out of Python for your projects. Object-oriented programming, in particular, is well-supported in Python, allowing for the creation and manipulation of classes and objects.

The language has a comprehensive standard library that provides modules and packages for performing tasks such as file I/O, networking, and even graphical user interface (GUI) development. This extensive library reduces the need for external dependencies and accelerates development time for common tasks. Python's ecosystem is bolstered by a robust package management system, primarily through the Python Package Index (PyPI). PyPI hosts thousands of third-party packages that extend Python's capabilities into domains such as data analysis (e.g., NumPy, pandas), machine learning (e.g., TensorFlow, PyTorch), web development (e.g., Django, Flask), and more. This vast ecosystem promotes code reuse and collaboration among developers worldwide.

Python's popularity has grown significantly in recent years, driven by its usability and the increasing demand for data science and machine learning applications. Its straightforward syntax and broad community support make it an ideal choice for both beginners and experienced programmers alike.

In summary, Python's strengths lie in its simplicity, readability, and versatility. Whether you're developing a small script or a complex application, Python provides the tools and libraries necessary to streamline development and facilitate problem-solving across various domains. Its community-driven approach and extensive documentation ensure that developers have access to resources and support to leverage Python's full potential in their projects.

Features:

1. Simple and Readable Syntax: Python's syntax is intentionally designed for readability and simplicity. It uses indentation to define code blocks, which enhances code clarity and reduces the occurrence of syntax errors. This clear syntax structure makes Python an ideal language for beginners and professionals alike, promoting faster learning and easier maintenance of codebases.

2. Interpreted and Interactive: Python's interpreted nature allows developers to execute code directly, line by line, without the need for compilation into machine language. This interactive mode supports rapid prototyping and iterative development, enabling quick testing and debugging of code snippets.

Python's interpreter also facilitates dynamic typing, where variables are assigned data types during execution, enhancing flexibility and agility in programming tasks.

3. High-level Language: Python operates at a high abstraction level, providing built-in constructs and data structures that simplify complex operations. This abstraction shields developers from low-level details like memory management, allowing them to focus more on solving problems effectively. Python's high-level approach promotes code readability, maintainability, and productivity by emphasizing the intent of the code over implementation details.

4. Dynamic Typing: Python uses dynamic typing, meaning variables are not bound to a specific data type during declaration but are instead inferred at runtime. This feature reduces verbosity in code, making Python scripts concise and flexible. Dynamic typing enhances developer productivity by facilitating rapid iteration and experimentation without the overhead of explicit type declarations, thereby promoting agile development practices.

5. Extensive Standard Library: Python's standard library is comprehensive and diverse, offering a wide range of modules and packages for various tasks such as file I/O, networking, database access, and more. These pre-built libraries eliminate the need for developers to write common functionalities from scratch, promoting code reuse and accelerating development timelines. Python's extensive standard library ensures robustness and reliability in applications by providing well-tested solutions to common programming challenges.

6. Support for Multiple Programming Paradigms: Python supports multiple programming paradigms including procedural, object-oriented, and functional programming styles. This versatility allows developers to choose the most appropriate approach for each task, promoting code modularity, reusability, and maintainability. Python's support for diverse paradigms facilitates the integration of different programming techniques within a single codebase, enabling developers to leverage the strengths of each paradigm to solve complex problems effectively.

7. Cross-platform: Python is platform-independent and runs seamlessly on major operating systems such as Windows, macOS, and Linux. This cross-platform compatibility ensures that Python code behaves consistently across different environments, facilitating easy deployment and distribution of

applications. Python's platform independence reduces development complexity and costs by enabling developers to write code once and deploy it across multiple platforms without significant modifications, thereby enhancing scalability and accessibility of Python-based solutions.

8. Large Community and Ecosystem: Python boasts a large and active community of developers, educators, and enthusiasts who contribute to its growth and support. This vibrant community provides extensive resources such as documentation, tutorials, forums, and third-party libraries. Python's rich ecosystem of libraries and frameworks catering to diverse domains empowers developers to build robust and scalable applications efficiently, leveraging community-driven solutions and best practices.

9. Integration Capabilities: Python facilitates seamless integration with other programming languages and technologies, enhancing its versatility and interoperability. Python's integration capabilities enable developers to incorporate performance-critical components written in languages like C/C++ directly into Python applications. This hybrid approach leverages Python's simplicity and flexibility for high-level logic while harnessing the efficiency and speed of lower-level languages for specific tasks. Python's interoperability supports the development of complex, hybrid solutions that combine the strengths of different technologies, thereby optimizing performance and enhancing overall application capabilities.

10. Scalability: Python is scalable from small scripts to large-scale applications, making it suitable for a wide range of use cases across various industries. Python's scalability stems from its robustness, flexibility, and extensive ecosystem of libraries and frameworks. It powers diverse applications including web development, scientific computing, data analysis, machine learning, and artificial intelligence. Python's scalability ensures adaptability and longevity of solutions in dynamic environments, supporting growth and innovation in technology-driven industries. Its scalability makes Python a preferred choice for developing scalable, enterprise-level applications that can evolve with changing business requirements and technological advancements.

4.3 Screen Shots


poth
pothole
pothole

pothole
background


pothole
pothole
pothole

pothole
pothole
pothole
pothole

pothole


pothole
pothole
pothole
pothol

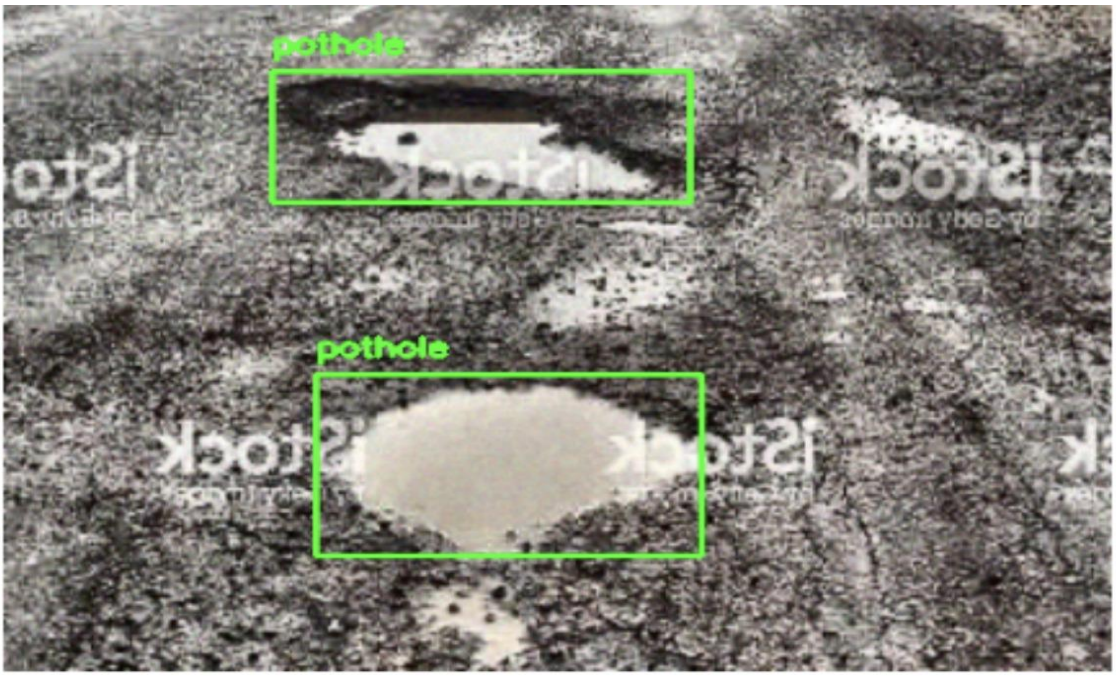
pothole
pothole

1.00
1.00
1.00
1.00

4.4 Source Code

```
!pip install pycocotools

! pip install -U ffmpeg

import pandas as pd

import numpy as np

import matplotlib.pyplot as plt

import os

import xml.etree.ElementTree as ET

import cv2

from PIL import Image

import seaborn as sns

import copy

import torch

from torch.utils.data import Dataset,DataLoader,Subset

import torch.optim as optim

import torchvision

from torchvision.models.detection.ssd import SSDHead,det_utils

from torchvision.models.detection import
ssd300_vgg16,SSD300_VGG16_Weights

import torchvision.transforms.functional as tf

import albumentations as A

import pycocotools
```

```
import torchmetrics

from torchmetrics.detection import MeanAveragePrecision

np.random.seed(42)

torch.manual_seed(42)

img_dir=“IMAGES PATH"

annot_dir=“ANNOTATIONS PATH“

#label 0 is fixed for background

classes=["background","pothole"]

num_classes=2

device="cuda" if torch.cuda.is_available() else "cpu"

batch_size=4

epochs=40

learning_rate=3e-5

model_weights_file="model.pth"

iou_threshold=0.75

threshold=0.25

#BOUNDING BOX DATA ANALYSIS

def parse_xml(annot_path):

    tree=ET.parse(annot_path)

    root=tree.getroot()

    width=int(root.find("size").find("width").text)
```

```
    height=int(root.find("size").find("height").text)
    boxes=[]
    for obj in root.findall("object"):
        bbox=obj.find("bndbox")
        xmin=int(bbox.find("xmin").text)
        ymin=int(bbox.find("ymin").text)
        xmax=int(bbox.find("xmax").text)
        ymax=int(bbox.find("ymax").text)
        boxes.append([xmin,ymin,xmax,ymax])
    return boxes,height,width
ignore_img=[]
for annot_name in os.listdir(annot_dir):
    img_name=annot_name[:-4]+".png"
    annot_path=os.path.join(annot_dir,annot_name)
    boxes,height,width=parse_xml(annot_path)
    for box in boxes:
        if box[0]<0 or box[0]>=box[2] or box[2]>width:
            print(box[0],box[2],width)
            print("x",annot_name)
            print("*"*50)
            ignore_img.append(img_name)
```

```
        elif box[1]<0 or box[1]>=box[3] or box[3]>height:
            print(box[1],box[3],height)
            print("y",file_name)
            print("*"*50)
            ignore_img.append(img_name)
ignore_img
#DATA AUGMENTATION
train_transform=A.Compose([A.HorizontalFlip(),
                    A.ShiftScaleRotate(rotate_limit=15,value=0,
                                border_mode=cv2.BORDER_CONSTANT),
                    A.OneOf(
                        [A.CLAHE(),
                         A.RandomBrightnessContrast(),
                         A.HueSaturationValue()],p=1),
                    A.GaussNoise(),
                    A.RandomResizedCrop(height=480,width=480)],

bbox_params=A.BboxParams(format="pascal_voc",min_visibility=0.15,
                                label_fields=["labels"]))
val_transform=A.Compose([A.Resize(height=480,width=480)],

bbox_params=A.BboxParams(format="pascal_voc",min_visibility=0.15,
```

```
  label_fields=["labels"]))

class PotholeDetection(Dataset):

   def __init__(self,img_dir,annot_dir,transform=None):

      super().__init__()

      self.img_dir=img_dir

      self.annot_dir=annot_dir

      self.img_list=sorted([img for img in os.listdir(self.img_dir)

                              if img not in ignore_img])

      self.transform=transform

   def __len__(self):

      return len(self.img_list)

 def __getitem__(self,idx):

      img_name=self.img_list[idx]

      img_path=os.path.join(self.img_dir,img_name)

      img=cv2.imread(img_path)

      img=cv2.cvtColor(img,cv2.COLOR_BGR2RGB)

      annot_name=img_name[:-4]+".xml"

annot_path=os.path.join(self.annot_dir,annot_name)

      boxes,height,width=parse_xml(annot_path)

      labels=[1]*len(boxes)

if self.transform is not None:
```

```
            transformed=self.transform(image=img,bboxes=boxes,labels=labels)
            img=transformed["image"]
            boxes=transformed["bboxes"]
            labels=transformed["labels"]
        if len(np.array(boxes).shape)!=2 or np.array(boxes).shape[-1]!=4:
            boxes=[[0.0,0.0,1.0,1.0]]
            labels=[0]
 img=img/255
        img=tf.to_tensor(img)
        img=img.to(dtype=torch.float32)
        target={}
target["boxes"]=torch.tensor(boxes,dtype=torch.float32)
        target["labels"]=torch.tensor(labels,dtype=torch.int64)
        target["id"]=torch.tensor(idx)
        return img,target
train_ds=potholedetection(img_dir,annot_dir,train_transform)
val_ds=potholedetection(img_dir,annot_dir,val_transform)
from torch.utils.data import subset
idxs=list(range(len(train_ds)))
np.random.shuffle(idxs)
train_idx=idxs[:int(0.85*len(train_ds))]
```

```
val_idx=idxs[int(0.85*len(train_ds)):]

train_ds=subset(train_ds,train_idx)

val_ds=subset(val_ds,val_idx)

len(val_ds)
```

#DATA VISUALIZATION

```
def show_bbox(img,target,color=(0,255,0)):

    img=np.transpose(img.cpu().numpy(),(1,2,0))

    boxes=target["boxes"].cpu().numpy().astype("int")

    labels=target["labels"].cpu().numpy()

    img=img.copy()

for i,box in enumerate(boxes):

        idx=int(labels[i])

        text=classes[idx]

        cv2.rectangle(img,(box[0],box[1]),(box[2],box[3]),color,2)

        y=box[1]-10 if box[1]-10>10 else box[1]+10


cv2.putText(img,text,(box[0],y),cv2.FONT_HERSHEY_SIMPLEX,0.5,color,2)

 return img

fig,axes=plt.subplots(4,2,figsize=(12,24))

plt.subplots_adjust(wspace=0.1,hspace=0.1)

ax=axes.flatten()idxs=np.random.choice(range(len(train_ds)),8)

for i,idx in enumerate(idxs):
```

```
        img,target=train_ds[idx]
output_img=show_bbox(img,target)
ax[i].imshow(output_img)    ax[i].axis("off")
def get_lr(optimizer):
for params in optimizer.param_groups:
return params["lr"]
model_weights_pth="/Users/noorshaik/Desktop/Review_1/DataSet/model.pth“
model=ssd300_vgg16()
in_channels=det_utils.retrieve_out_channels(model.backbone,(480,480))
num_anchors=model.anchor_generator.num_anchors_per_location()
model.head=SSDHead(in_channels=in_channels,num_anchors=num_anchors,nu
m_classes=num_classes)
model.load_state_dict(torch.load(model_weights_pth,map_location=device))
model.to(device)
def preprocess_bbox(prediction):
    processed_bbox={}
    boxes=prediction["boxes"][prediction["scores"]>=threshold]
    scores=prediction["scores"][prediction["scores"]>=threshold]
    labels=prediction["labels"][prediction["scores"]>=threshold]
    nms=torchvision.ops.nms(boxes,scores,iou_threshold=iou_threshold)
    processed_bbox["boxes"]=boxes[nms]
    processed_bbox["scores"]=scores[nms]
```

```
    processed_bbox["labels"]=labels[nms]

    return processed_bbox
```

#VIDEO REFERENCE

```
video_path="/Users/noorshaik/Desktop/Review_1/video.mp4"

video_out_path="/Users/noorshaik/Desktop/Review_1/output_video.mp4"

cap=cv2.VideoCapture(video_path)

if (cap.isOpened() == False):

    print('Error while trying to read video. Please check path again')

# define codec and create VideoWriter object

out=cv2.VideoWriter(video_out_path,  cv2.VideoWriter_fourcc(*'XVID'), 30,
(480,480))

model=model.eval()

# read until end of video

while(cap.isOpened()):

    # capture each frame of the video

    ret, frame=cap.read()

    if ret==True:

        with torch.no_grad():

            # get predictions for the current frame

            frame=cv2.resize(frame,(480,480))

            frame=frame/255

  frame=np.transpose(frame,(2,0,1))
```

```
  frame=torch.as_tensor(frame,dtype=torch.float32)
            frame=frame.to(device)
output=model([frame])
            predict=preprocess_bbox(output[0])
            output_img=show_bbox(frame,predict)
            output_img=(output_img*255).astype(np.uint8)
            out.write(output_img)
    else:
        break
# release VideoCapture()
out.release()
cap.release()
```

CHAPTER - 5

SYSTEM TESTING

5.1 Testing Description

Testing is all about finding mistakes. It's like checking everything to make sure there are no problems. You test different parts to see if they work properly. The goal is to make sure the software does what it's supposed to do and doesn't break in a bad way. Tests come in different types to meet different needs.

5.1.1 Unit Testing

Unit Testing involves testing individual components or units of software to sure they work correctly all by themselves. When we talk about pothole detection using ResNet-50, unit testing would focus on checking each function or module within the system. For instance, unit tests would confirm that the image preprocessing functions handle input images accurately, making sure they are resized, normalized, and formatted the right way for ResNet-50's input needs. Also, unit tests would check if the ResNet50 model itself works as it should, ensuring it can accurately classify images with potholes.

5.1.2 Integration Testing

Integration Testing makes sure different modules or components of the system interact properly. In pothole detection, integration testing would confirm the entire workflow from image input to pothole detection output using ResNet-50 works smoothly. This means testing how preprocessing steps integrate, how ResNet-50 predicts models, and how results are processed after to ensure everything flows seamlessly across the complete detection process.

5.1.3 Verification Testing

Verification Testing checks if the system meets specific requirements and follows its design specifications properly. In pothole detection with ResNet-50, verification testing ensures that the system correctly identifies potholes based on predefined criteria like size, depth, shape and meets performance metrics such as accuracy, precision, and recall.

5.1.4 Validation Testing

Validation Testing assesses whether the system meets user expectations in real-world situations. For pothole detection, validation testing would mean deploying the ResNet-50 model in various road conditions and environments to see if it's reliable and accurate. This phase of testing makes sure that the pothole detection system works well in different scenarios like various lighting conditions, road surfaces, and weather conditions.

5.1.5 White-box Testing

White-box Testing looks into the internal structure and implementation of a software system. In pothole detection with ResNet-50 white-box testing would involve examining how the architecture of the ResNet-50 model is designed - looking at its layers, activations, and weights closely. The goal is to ensure that the model’s architecture aligns with best practices and optimization techniques to make it more efficient at detecting potholes.

5.1.6 Black-box Testing

Black-box Testing evaluates a software system's functionality without delving into how it's structured internally. For pothole detection purposes, black-box testing focuses on checking if the ResNet-50 model can correctly categorize images with potholes based solely on input-output behaviour. This type of testing verifies that the model can identify potholes accurately without needing knowledge of what’s going on inside - ensuring its reliability in real-world applications.

CHAPTER – 6

CONCLUSION & FUTURE ENHANCEMENT

6.1 Conclusion

Detecting potholes on roads is crucial for maintaining safe and efficient transportation infrastructure. Traditional methods of pothole detection often rely on manual inspection, which can be time-consuming, labour-intensive, and prone to human error. With advancements in computer vision and deep learning, there has been a shift towards automating this process using neural networks, particularly leveraging transfer learning with models like ResNet-50. ResNet-50 is a convolutional neural network (CNN) architecture known for its depth and performance in image classification tasks. This architecture has been pre-trained on large-scale datasets such as ImageNet, which contains millions of labelled images across thousands of categories. The pre-training phase allows ResNet-50 to learn general features and patterns from diverse visual data, making it a powerful base for transfer learning. Transfer learning involves taking knowledge gained from solving one problem and applying it to a different but related problem. In the context of pothole detection, transfer learning with ResNet-50 involves fine-tuning the pre-trained network on a smaller dataset of pothole images. This approach leverages the learned features from ImageNet and adapts them to detect specific visual cues indicative of potholes, such as irregular shapes, changes in texture, and depth variations in road surfaces. Firstly, it reduces the computational burden compared to training a CNN from scratch, as much of the feature extraction capability is already embedded in the pre-trained model. This efficiency is crucial for real-time applications such as pothole detection systems installed on vehicles or roadside cameras. Secondly, fine-tuning allows the model to adapt and improve its performance based on new data specific to road conditions, lighting variations, and camera perspectives encountered in different environments.

In conclusion, the fusion of transfer learning with ResNet-50 represents a significant advancement in automating pothole detection on roads. By harnessing the power of deep learning and leveraging pre-trained models, such systems can achieve high precision and reliability in detecting road hazards, ultimately contributing to safer and more efficient transportation infrastructure globally.

6.2 Future Enhancement

Looking into the future, there are several avenues for enhancing pothole detection systems on roads using transfer learning with ResNet-50. While the current implementations show promising results, ongoing research and development can further improve the accuracy, efficiency, and applicability of these systems.

One key area for future enhancement lies in expanding the dataset diversity and size used for training ResNet-50. Currently, pothole detection models rely on datasets that capture a range of road conditions and pothole variations. However, to enhance robustness and generalization, future efforts could focus on collecting more diverse datasets from different geographical locations, road types (urban, rural, highways), and environmental conditions (daytime, nighttime, adverse weather). This diversity helps the model learn to detect potholes in various real-world scenarios accurately. Furthermore, incorporating multi-sensor data fusion could significantly enhance the reliability of pothole detection systems. Beyond visual information captured by cameras, integrating data from other sensors such as LIDAR (Light Detection and Ranging), radar, or inertial measurement units (IMUs) can provide complementary insights. LIDAR, for example, can offer depth information that enhances the spatial understanding of road surfaces, while radar and IMUs can contribute to detecting surface irregularities and vibrations caused by potholes, respectively. Fusion of these data streams using advanced fusion techniques (e.g., sensor fusion networks) can improve detection accuracy and reduce false positives.

Another promising direction for future research is the development of real-time pothole severity estimation models. Current systems primarily focus on detecting the presence of potholes. However, accurately assessing the severity (depth, width, and overall impact on road safety) is crucial for prioritizing repair efforts. By leveraging advanced computer vision techniques and deep learning architectures, future models could be trained to not only detect potholes but also estimate their dimensions and severity levels based on visual cues. Improving the scalability and deployment feasibility of pothole detection systems is also critical for widespread adoption. Current systems often require high computational resources, making them impractical for deployment across large geographical areas. Future enhancements could focus on developing lightweight models that maintain high detection accuracy while minimizing computational costs.

REFERENCES

[1] FurkanOzoglu ;TurkayGokgoz:, “Detection of Road Potholes by Applying Convolutional Neural Network Method Based on Road Vibration Data”, October 2023.

[2] S Nienaber, Mjbooysen and RS Kroon, “Detecting potholes using simple image processing techniques and real-world footage”, Conference Paper; July 2015.

[3] C. Zhang, E. Nateghinia, L. Miranda-Moreno and L. Sun, "Pavement distress detection using convolutional neural network (CNN): A case study in Montreal Canada", International Journal of Transportation Science and Technology, 2021.

[4] P. Ping, X. Yang and Z. Gao, "A Deep Learning Approach for Street Pothole Detection", 2020 IEEE Sixth International Conference on Big Data Computing Service and Applications (BigDataService), 2020.

[5] R Kavitha, S Nivetha, “Pothole and object detection for an autonomous vehicle using yolo”, 5th international conference on intelligent computing, 2021.

[6] E.M. Thompson, A. Ranieri, S. Biasotti, M. Chicchon, I. Sipiran, M.K. Pham, T.L. Nguyen-Ho, H.D. Nguyen, M.T. TranShrec, “pothole and crack detection in road pavement using images and RGB-D data”, 2022.

[7] E. Buza, S. Omanovic and A. Huseinovic, "Pothole detection with image processing and spectral clustering," Proceedings of the 2nd International Conference on Information Technology and Computer Networks, vol. 810, pp. 48-53, 2013.

[8] J. -C. Tsai, K. -T. Lai, T. -C. Dai, J. -J. Su, C. -Y. Siao and Y. -C. Hsu, "Learning Pothole Detection in Virtual Environment", pp. 1-5, 2020.

[9] K. Ahmed, "Smart Pothole Detection Using Deep Learning Based on Dilated Convolution", Sensors, vol. 21, no. 24, pp. 8406, 2021.

[10] C. Koch and I. Brilakis, "Pothole detection in asphalt pavement images", Advanced Engineering Informatics, vol. 25, no. 3, pp. 507-515, 2011.

[11] K. Vigneshwar and B. Kumar, "Detection and counting of pothole using image processing techniques", IEEE International Conference on Computational Intelligence and Computing Research (ICCIC), 2016.

[12] Y. Bhatia Aparna, R. Rai, V. Gupta, N. Aggarwal and A. Akula, "Convolutional neural networks based potholes detection using thermal imaging", Journal of King Saud University - Computer and Information Sciences, 2019.

[13] K. Wang, M. Liu and Z. Ye, "An advanced YOLOv3 method for small-scale road object detection", Applied Soft Computing, vol. 112, pp. 107846, 2021.

[14] H. Obaidi, B. Gomez-Meijide, A. Garcia “A fast pothole repair method using asphalt tiles and induction heating” , 30 January 2017.